Title: Tree species composition and diversity mediates land surface phenology in seasonally dry tropical woodlands

Authors: Godlee J. L.[1], Ryan C. M.[1], Siampale A.[2], Dexter K. G.[1,3]

[1]School of GeoSciences, University of Edinburgh, Edinburgh, EH9 3FF, United Kingdom

[2]Forestry Department Headquarters - Ministry of Lands and Natural Resources, Cairo Road, Lusaka, Zambia

[3]Royal Botanic Garden Edinburgh, Edinburgh, EH3 5LR, United Kingdom

Corresponding author:

John L. Godlee

johngodlee@gmail.com

School of GeoSciences, University of Edinburgh, Edinburgh, United Kingdom

Acknowledgements

Author contribution statement

JLG conceived the study, conducted the analysis, and wrote the first draft of the manuscript. AS coordinated plot data collection in Zambia. All authors contributed to manuscript revisions.

Data accessibility statement

The data used in this study are from the Zambian Integrated Land Use Assessment (ILUA-II). Data were cleaned and archived by the SEOSAW project (Socio-Ecological Observatory for Studying African Woodlands). An anonymised version of the plot data are available at the following DOI: **URL for Edinburgh Datashare**. Code developed for data analysis can be found here: `https://github.com/johngodlee/zambia_phenology`.

Abstract

1. Patterns of plant phenology are a key determinant of ecosystem function. Variation in remotely sensed land surface phenology can be predicted to some extent from climate, but understanding of how ecosystem structure and plant community composition mediates patterns of land surface phenology is lacking. This impacts our ability to predict how changes in vegetation composition may affect patterns of land surface phenology, with consequences for predictions of global land-atmosphere exchange.

2. We combined a dense network of 617 vegetation monitoring sites across deciduous woodlands in Zambia with remotely sensed land surface phenology metrics to investigate the role of tree species diversity, composition, and woodland structure on patterns of land surface phenology, including the phenomenon of pre-rain green-up.

3. Tree species diversity was associated with earlier pre-rain green-up, a longer growing season, and a longer plateau of maximum foliage production, across all woodland types identified in the study. Increased growing season length is associated with dominance of trees from the Fabaceae subfamily Detarioideae, which drive a longer period of maximum foliage production towards the end of the growing season. Woodland compositional types differed in their phenological patterns and biotic drivers of phenology.

4. This study underlines the importance of vegetation composition and diversity as a determinant of ecosystem function, and offers new insights into the factors determining patterns of land surface phenology across the dry tropics, which are essential for realistic modelling of land-atmosphere mass and energy exchange.

5. **Synthesis:** Tree species composition and diversity influence patterns of foliage production in seasonally dry tropical woodlands, with more diverse woodlands able to green-up earlier with respect to seasonal rains. Species of the Fabaceae family, subfamily Detarioideae, are associated with longer growing seasons, effectively extending the period of maximum foliage production toward the end of the growing season. Understanding variation in land surface phenology with respect to vegetation composition is of great importance for earth-system modellers aiming to parameterise predictive models of land-atmophere mass and energy exchange.

1 Introduction

Plant foliage forms the primary interface between the vegetated land surface, the atmosphere and incoming solar radiation (Gu et al., 2003; Penuelas et al., 2009). Seasonal cycles of foliage production (plant phenology) play an important role in regulating global carbon, water and nitrogen cycles (Richardson et al., 2013). Terrestrial biosphere models routinely incorporate measures of plant phenology to constrain estimates of Gross Primary Productivity (GPP) (e.g. Bloom et al. 2016), most commonly in the form of land surface phenology products derived from remotely sensed vegetation indices as a proxy for foliage production (Helman, 2018). Previous studies have described environmental drivers of land surface phenology (Adole et al., 2019; Guan et al., 2014), but understanding of how the composition and structure of the vegetation itself affects patterns of land surface phenology is lacking (Whitley et al., 2017).

At continental scales, land surface phenology can be predicted using only climatic factors, namely precipitation, diurnal temperature oscillation, and photoperiod (Adole et al., 2018b; Adole et al., 2019; Guan et al., 2014), but significant local variation exists within biomes in the timing of foliage production which cannot be attributed solely to abiotic environment (Stöckli et al., 2011). It has been repeatedly suggested that the diversity, composition, and structure of plant communities plays a role in determining ecosystem response to abiotic cues driving patterns of land surface phenology (Adole et al., 2018a; Jeganathan et al., 2014; Fuller, 1999), owing to differences in growth strategy among species and trees of different size. Indeed, ground observations find wide variation in phenological patterns of foliage production among plant communities within a given biome (), but this is rarely represented in predictive models of biosphere-atmosphere exchanges (Scheiter et al., 2013; Pavlick et al., 2013).

Across the dry tropics, seasonal oscillations in water availability produce cycles of foliage production (Chidumayo, 2001; Dahlin et al., 2016). The phenomenon of pre-rain green-up seen in some tree species within the dry tropics serves as a striking example of adaptation to seasonal variation in water availability (Ryan et al., 2017). Conservative species, slower growing with robust leaves and denser wood, may initiate foliage production (green-up) before the rainy season has commenced. They may also retain their leaves for longer after the end of the rainy season, though the mechanisms of this behaviour are less clear (). Of particular note is the strong association of tree species from the Fabaceae family, subfamily Detarioideae, with pre-rain greenup (Ryan et al., 2017). Detarioid species are frequently dominant in miombo woodlands, the largest woodland type in southern Africa (White, 1983), producing tall woodland canopies with deep root systems (Zhou et al., 2020). Acquisitive species however, may only begin to produce foliage during the rainy season, creating a dense leaf-flush during the mid-season peak of growth and dropping their leaves earlier as soil water content

drops towards the end of the rainy season (Lasky et al., 2016). While conservative species gain a competitive advantage from having fully emerged leaves once the rainy season starts, they must also invest heavily in deep root architecture to access groundwater reserves in order to produce foliage during the dry season, and risk hydraulic failure if seasonal rains occur much later than normal (). It has been suggested that variation in phenological strategy among tree species is one mechanism by which increased species diversity increases resilience to drought and maximises productivity in water-limited woodland ecosystems (Stan & Sanchez-Azofeifa, 2019; Morellato et al., 2016).

Variation in seasonal patterns of foliage production also affects broader ecosystem processes. Woodlands with a longer tree growth period support a greater diversity and abundance of wildlife, particularly birds, but also browsing mammals and invertebrates (Cole et al., 2015; Araujo et al., 2017; Morellato et al., 2016; Ogutu et al., 2013). As climate change increases the frequency and severity of droughts in water-limited woodlands, woodlands with a diverse tree community may provide refugia for many animal species (Bale et al., 2002). The period of green-up is a key time for invertebrate reproduction (Prather et al., 2012) and herbivore browsing activity (Velasque & Del-Claro, 2016; Morellato et al., 2016). Pre-rain green-up provides a valuable source of moisture and nutrients before the rainy season, and can moderate the understorey microclimate, increasing humidity, reducing UV exposure, moderating diurnal oscillations in temperature, and reducing ecophysiological stress which otherwise can lead to mortality during the dry season. Thus, understanding what drives variation in seasonal patterns of foliage production in tropical deciduous woodlands can provide valuable information on their vulnerability to climate change, and therefore better information to predict their future extent and productivity.

In this study we investigate how tree species diversity, composition, and structure influence land surface phenology in seasonally dry tropical woodlands. We focus specifically on the lag between green-up/senescence and the onset/end of the rainy season, the magnitude of foliage production within the growing season, and the overall length of the growing season. We hypothesise that: (H_1) sites with greater species diversity will exhibit a longer growing season due to a higher diversity of phenological strategies; (H_2) in sites with greater species diversity the start of the growing season will occur earlier with respect to the onset of the rainy season due to an increased likelihood of containing species which can green-up early; (H_3) sites with larger trees will exhibit longer growing seasons, as large trees can better access resilient deep groundwater reserves outside of the rainy season; (H_4) sites dominated by species from the Fabaceae family, subfamily Detarioideae will experience earlier pre-rain green-up.

2 Materials and Methods

2.1 Plot data

We used data on tree species diversity and composition from 617 sites surveyed as part of the Zambian Integrated Land Use Assessment Phase II (ILUA-II), conducted in 2014 (Mukosha & Siampale, 2009; Pelletier et al., 2018). Each site consisted of four 20×50 m (0.1 ha) plots positioned in a square around a central point, with a distance of 500 m between each plot (Figure 1). The original census contained 993 sites, which was filtered in order to define study bounds and to ensure data quality. Only sites with ≥50 stems ha^{-1} ≥10 cm DBH (Diameter at Breast Height) were included in the analysis, to ensure all sites represented woodlands rather than 'grassy savanna', which is considered a separate biome with different species composition and ecosystem processes governing phenology (Parr et al., 2014). Sites with non-native tree species, e.g. *Pinus* spp. and *Eucalyptus* spp. were excluded, as these species may exhibit patterns of foliage production which differ markedly from that of native tree species assemblages (Broadhead et al., 2003). Of the 49656 trees recorded, 97.9% were identified to species. Sites with >20% of species not identified to species were discarded. There were no significant correlations between the number of trees identified per site and any of the phenological metrics, diversity or structural variables used in analyses.

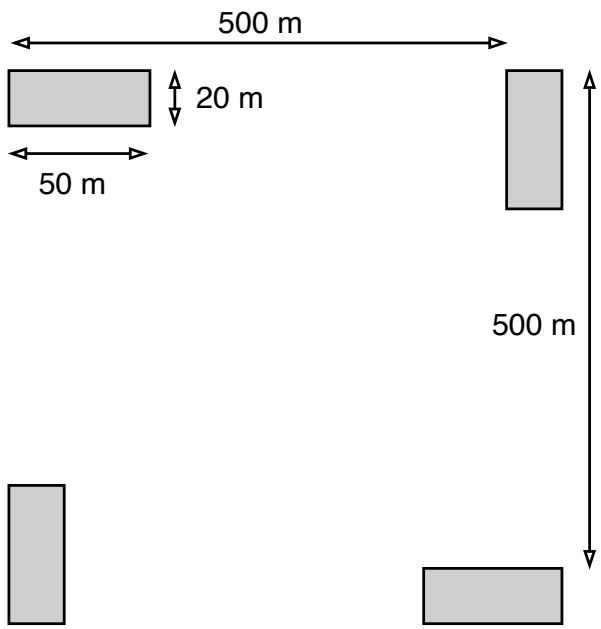

Figure 1: Schematic diagram of plot layout within a site. Each 20×50 m (0.1 ha) plot is shaded grey. Note that the plot dimensions are not to scale.

Within each plot, the species and basal area of all trees with at least one stem ≥10 cm DBH were recorded. Plot data were aggregated to the site level for analyses to avoid pseudo-replication. Each site covers an area of 500 m^2, matching that of the land surface phenology data used. We excluded

sites where plots differed appreciably in vegetation composition, to ensure that all sites used in statistical analysis were representative of the vegetation within the 500 m^2 area of vegetation. Using the Bray-Curtis dissimilarity index on species basal area data (Faith et al., 1987), we calculated the mean pairwise compositional distance between plots within each site. Sites were discarded when the mean pairwise compositional distance among plots within the site was greater than the mean pairwise compositional distance of all plots across all sites. This excluded 56 sites.

2.2 Vegetation composition and diversity

To classify variation in tree species composition we used agglomerative hierarchical clustering on species basal area data (Kreft & Jetz, 2010; Fayolle et al., 2014). We excluded species with fewer than five records across all sites from this analysis, as very rare species can hinder meaningful cluster delineation. We used Ward's algorithm to define clusters (Murtagh & Legendre, 2014), based on the Bray-Curtis distance between pairs of sites. We determined the optimal number of clusters by maximising the mean silhouette width among clusters (Rousseeuw, 1987). We described the vegetation types represented by each cluster using Dufrêne-Legendre indicator species analysis (Dufrêne & Legendre, 1997). Four vegetation types were identified during hierarchical clustering. The silhouette value of the clustering algorithm reached 0.64.

While all vegetation types were present across Zambia, there was some spatial and climatic stratification (Figure 2). Three miombo woodland types were identified, each with different sets of secondary species, but all dominated by Detarioid species such as *Brachystegia* spp. and *Julbernardia* spp. (Table 1). Uapaca miombo is largely absent from the southwest of the country, occurring predominantly in higher rainfall regions to the north and east. Cryptosepalum-dominated miombo is found more in the southwest of the country, possibly representing the drier "Angolan miombo woodlands" described by White (1983). Julbernardia miombo is common in cooler areas and is more climatically restricted than the other miombo woodland types. Combretaceae woodlands match the description of small stature Zambesian woodlands, as described by Dinerstein et al. (2017) and Chidumayo (2001). These woodlands are not dominated by the same archetypal Detarioideae tree species as the other miombo woodland vegetation types. These combretaceae woodlands occur over a wide climatic range, and contain some of the warmest sites in our dataset in the southeast of the country. The miombo woodland vegetation types are dominated by *Brachystegia* spp. and *Julbernardia* spp., with different secondary species. Median species richness and the range of species richness values per site is similar across vegetation clusters (Table 1).

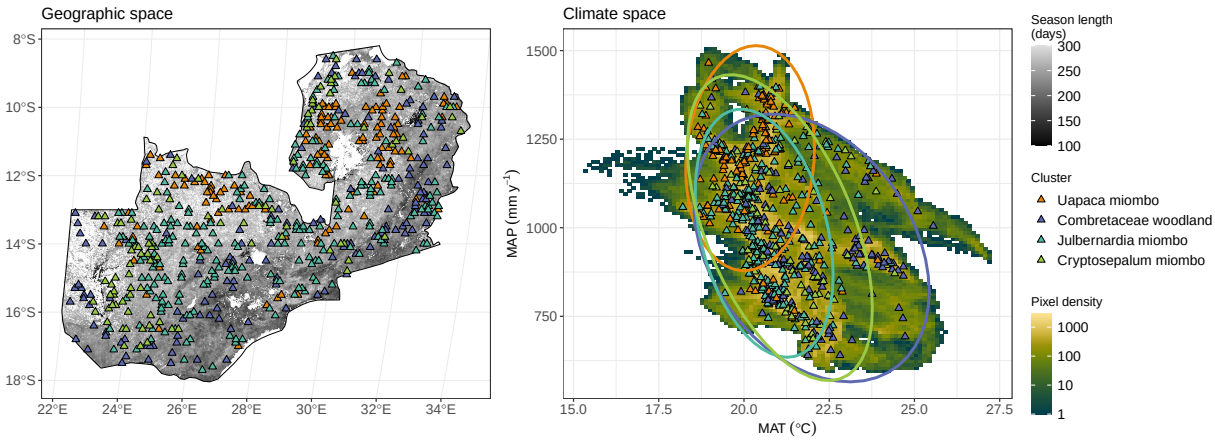

Figure 2: Distribution of study sites, within Zambia (left), and in climate space (right). Sites are shown as triangles, coloured according to vegetation type cluster. Zambia is shaded according to mean growing season length during the period 2001 to 2021, estimated from the MODIS MCD12Q2 land surface phenology product, at 500 m spatial resolution (Friedl et al., 2022). Growing season length is masked by the MODIS MCD12Q1 land cover map from 2015 (Friedl & Sulla-Menashe, 2019), removing all pixels occurring in wetlands, croplands, water bodies, and urban areas. Climate space is represented by Mean Annual Temperature (MAT) and Mean Annual Precipitation (MAP), extracted from the WorldClim dataset at 30 arc second resolution (Fick & Hijmans, 2017). The shaded area in the right panel shows the climate space of Zambia, showing the density of pixels for given values of MAT and MAP. The ellipses in the right panel show the 95% confidence interval for modelled climate space of each vegetation type cluster.

Cluster	N sites	Richness	MAP	MAT	Indicator species	Indicator value
Uapaca miombo	135	17(7)	1176(155.6)	20(0.9)	*Brachystegia longifolia*	0.393
					Uapaca kirkiana	0.384
					Marquesia macroura	0.278
Combretaceae woodland	144	14(5)	955(172.9)	22(1.5)	*Combretum molle*	0.258
					Lannea discolor	0.229
					Combretum zeyheri	0.212
Julbernardia miombo	244	17(6)	998(158.1)	21(1.0)	*Julbernardia paniculata*	0.556
					Brachystegia boehmii	0.540
					Pseudolachnostylis maprouneifolia	0.227
Cryptosepalum miombo	96	14(6)	1012(185.3)	21(1.2)	*Brachystegia spiciformis*	0.582
					Cryptosepalum exfoliatum	0.285
					Guibourtia coleosperma	0.282

Table 1: Climatic information and Dufrêne-Legendre indicator species analysis for the vegetation type clusters identified by the PAM algorithm, based on basal area weighted species abundances (Dufrêne & Legendre, 1997). The three species per cluster with the highest indicator values are shown along with other key statistics for each cluster. MAP (Mean Annual Precipitation) and MAT (Mean Annual Temperature) are reported as the mean and 1 standard deviation in parentheses. Species richness is reported as the median and the interquartile range in parentheses.

To describe species diversity in each site, we calculated the Shannon-Wiener index (H') from species basal area rather than individual abundance, as a measure of species diversity effectively weighted by a species' contribution to canopy occupancy and thus by contribution to the land surface phenological signal. H' was transformed to the first order numbers-equivalent (^1D) of H', calculated as $e^{H'}$ (Jost, 2007). We use ^1D as the primary measure of species diversity in our statistical models, and is subsequently referred to as species diversity. To describe average tree size, we calculated the quadratic mean of stem diameters per site (Curtis & Marshall, 2000). The quadratic mean of diameter is directly related to basal area, unlike the arithmetic mean of diameter. It is thus a more appropriate descriptor of average tree size, as it scales linearly with volume and biomass.

2.3 Land surface phenology

To quantify phenology at each site, we used the MODIS MCD12Q2 v6.1 land surface phenology product Friedl et al. (2022). MCD12Q2 provides annual metrics describing land surface phenology, with a spatial resolution of ~500 m. The phenological metrics in MCD12Q2 are derived from the 2-band MODIS EVI time series, with nadir BRDF adjusted surface reflectances. There are a number

of land surface phenology products derived from MODIS vegetation indices. We chose MCD12Q2 as it has been used effectively in other studies in African woodlands to measure growing season period (). Additionaly, a previous comparison of MODIS-derived land surface phenology products showed that MCD12Q2 out-performed other products in predicting the start of the growing season in relation to ground observations (Peng et al., 2017).

All sites were determined to have a single annual growing season according to the MCD12Q2 "Num-Cycles" metric. We used the "Greenup" and "Dormancy" metrics to define the growing season as the period when the EVI time series exceeds 15% of the EVI amplitude for a given growing season (Figure 3). We used the "Senescence" and "Maturity" metrics to define the end/start of the green-up/senescence periods and the period maximum foliage cover as the period when the EVI time series exceeds 90% of the EVI amplitude for that growing season. We used all years from 2001 to 2021 and calculated mean values of growing season length, start of growing season date, end of growing season date, and length of the green-up and senescence periods for each site in our study.

2.4 Precipitation and temperature data

Precipitation data for each site was taken from the GPM IMERG Final Precipitation L3 1 day V06 product, which has a pixel size of 0.1°(11.1 km at the equator) (Huffman et al., 2015). Daily total precipitation was separated into three periods: precipitation during the growing season, precipitation in the 30 day period before the onset of the growing season (pre-green-up precipitation), and precipitation in the 30 day period before the onset of senescence at the end of the growing season (pre-senescence precipitation).

There is no clear consensus on best practice for defining the limits of the rainy season (Guan et al., 2014). Here we followed the example of Stern et al. (1981) and Adole et al. (2018b), variations of which have been used in several studies of African savanna-woodland phenology (Ryan et al., 2017; Tadross et al., 2005; Mupangwa et al., 2011; Segele & Lamb, 2005). We first defined "hydrological years" for each site, bounded by the calendar months experiencing the lowest precipitation in each calendar year (Ferijal et al., 2022). Where multiple months tied for lowest precipitation, the month was chosen which would produce the shortest hydrological year. Note that hydrological years may be longer or shorter than a calendar year. The onset of the rainy season for each hydrological year was then defined as the start of the first period of 10 days with more than 20 mm total rainfall, followed by 20 days with more than 20 mm total rainfall. The end of the rainy season was defined as the start of the first period where where fewer than Four days within a 30 day period received more than 0.5 mm rainfall. Guan et al. (2014) compares other methods of estimating rainy season onset and end dates, and finds little functional difference between the method chosen here and other common methods. To validate our chosen definition of rainy season we checked that all season start

and end dates occurred within 5 days of the dates where 10% and 95% of yearly cumulative rainfall were exceeded, for each hydrological year (Adole et al., 2018b).

We calculated the lag between the onset of the growing season and the onset of the rainy season as the difference between these two dates. Similarly we calculated the lag between the end of the growing season and the end of the rainy season. These two metrics are referred to as "green-up lag" and "senescence lag" hereafter. To aid interpretation of statistical models, we reversed the sign of the green-up lag measurements, so that larger values indicate earlier pre-rain green-up.

Mean diurnal temperature range (Diurnal δT) was calculated for each site as the mean of monthly temperature range from the WorldClim database, using the BioClim variables (BIO2), with a pixel size of 30 arc seconds (926 m at the equator) (Fick & Hijmans, 2017), averaged across all years of available data (1970-2000).

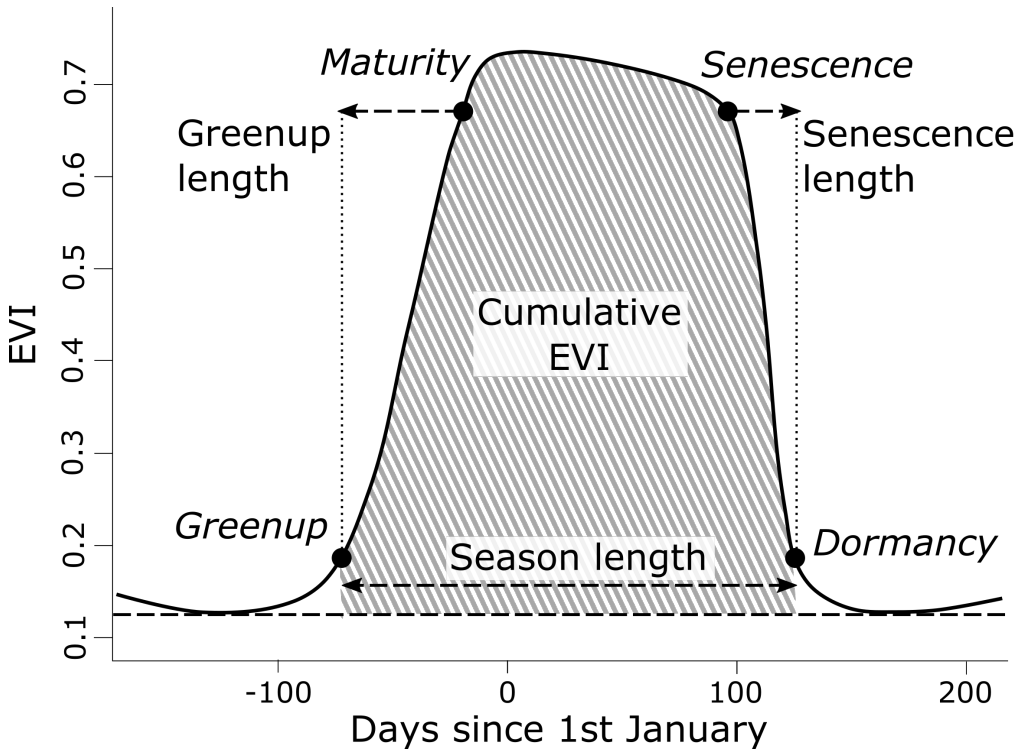

Figure 3: Schematic diagram of hypothetical splined NBAR-EVI2 time series, from which metrics provided by the MCD12Q2 product are derived, illustrating the positions of phenological metrics used in this study. Cumulative EVI indicates the shaded area under the EVI curve for a given growing season, bounded by the "Greenup" and "Dormancy" dates. Adapted from (Gray et al., 2022).

2.4.1 Statistical modelling

We used multivariate linear models to investigate the effect of tree species diversity, composition, and woodland structure on each phenological metric. We defined a maximal model structure including

the explanatory variables of species diversity, quadratic mean of tree stem diameter, and relative abundance of detarioid species, alongside climatic variables shown by previous studies to strongly influence patterns of foliage production and senescence: precipitation and diurnal temperature range. For models of growing season length and cumulative EVI we used total cumulative rainy season precipitation, for green-up lag and length of green-up period we used pre-green-up precipitation, and for senescence lag and length of senescence period we used pre-senescence precipitation. We included interaction terms for species diversity and mean stem diameter with vegetation type. We used the `dredge` function from the `MuMIn` R package to determine which combination of explanatory variables and their interactions best explained each phenological metric. `dredge` produces a suite of models containing all possible combinations of explanatory variables and their defined interactions. Candidate models were compared using the model log-likelihood, AIC (Akaike Information Criteria), and adjusted R^2. Where two similar models were within 2 AIC points of each other, the model with fewer terms was chosen as the best model, to maximise model parsimony. Explanatory variables in each model were standardised to Z-scores prior to modelling to allow comparison of slope coefficients within a given model.

We assessed standardised effect sizes for explanatory variables in each best model to determine the magnitude and direction of their effect on each phenological metric. To investigate variation in the role of species diversity and woodland structure on phenological metrics among vegetation types, we estimated marginal means for these explanatory variables for each of the vegetation types, if they appeared in the best model. We estimated marginal means using the `ggeffects` package in R. Estimating marginal means entails generating model predictions across values of a focal variable, while holding non-focal variables constant at their reference value.

To describe variation in land surface phenology among vegetation clusters we conducted a MANOVA using the phenological metrics as response variables, followed by post-hoc Tukey's tests between each pairwise combination of vegetation clusters per phenological metric, to test whether vegetation clusters differed significantly in their land surface phenology. All statistical analyses were conducted in R version 4.0.2 (R Core Team, 2020).

3 Results

Multi-variate linear models effectively predicted season length ($R^2 = 0.46$), green-up lag ($R^2 = 0.34$) and senescence lag ($R^2 = 0.38$), while green-up length ($R^2 = 0.12$), senescence length ($R^2 = 0.08$), and cumulative EVI ($R^2 = 0.16$) were poorly constrained even in the best models according to the model selection procedure. Tree species diversity exhibited strong positive effects on both season length (H_1) and green-up lag (H_2) (Figure 4). Despite the 'best' model for cumulative EVI including

species diversity as an explanatory variable, the slope of this effect was insignificant, with a wide standard error.

Average tree size, measured by the quadratic mean of stem DBH per site, was not a significant predictor of any phenological metric (H_3). While it was included in the best model for cumulative EVI, with a marginally positive effect, this effect was not significant. The relative basal area abundance of species from the Fabaceae family, subfamily Detarioideae, was a significant predictor of season length and green-up lag (H_4).

The slope of some relationships between vegetation metrics and phenological metrics varied among vegetation types (Figure 5). The strong positive effect of species diversity on season length and green-up lag was shared among all vegetation types. Relative basal area abundance of Detarioideae species had a positive effect on season length across all vegetation types. The effect of Detarioideae relative basal area abundance on green-up lag was merginally negative in Uapaca miombo, but clearly positive in all other vegetation types. Variation in the effect of species diversity on senescence length also varied by vegetation type, with a negligible effect of this variable observed in Cryptosepalum miombo, but positive effects in other vegetation types.

A MANOVA including all phenological metrics showed a significant difference among vegetation clusters ($F(3,613)=12.53$, $p<0.01$). Combretaceae woodlands had a significantly shorter growing season length than the other vegetation types, along with significantly shorter periods of green-up and senescence (Figure 6). The majority of plots, regardless of vegetation type, exhibited some degree of pre-rain green-up. Across all sites, the mean lag between green-up and the onset of seasonal rains was 15 ± 14.9.

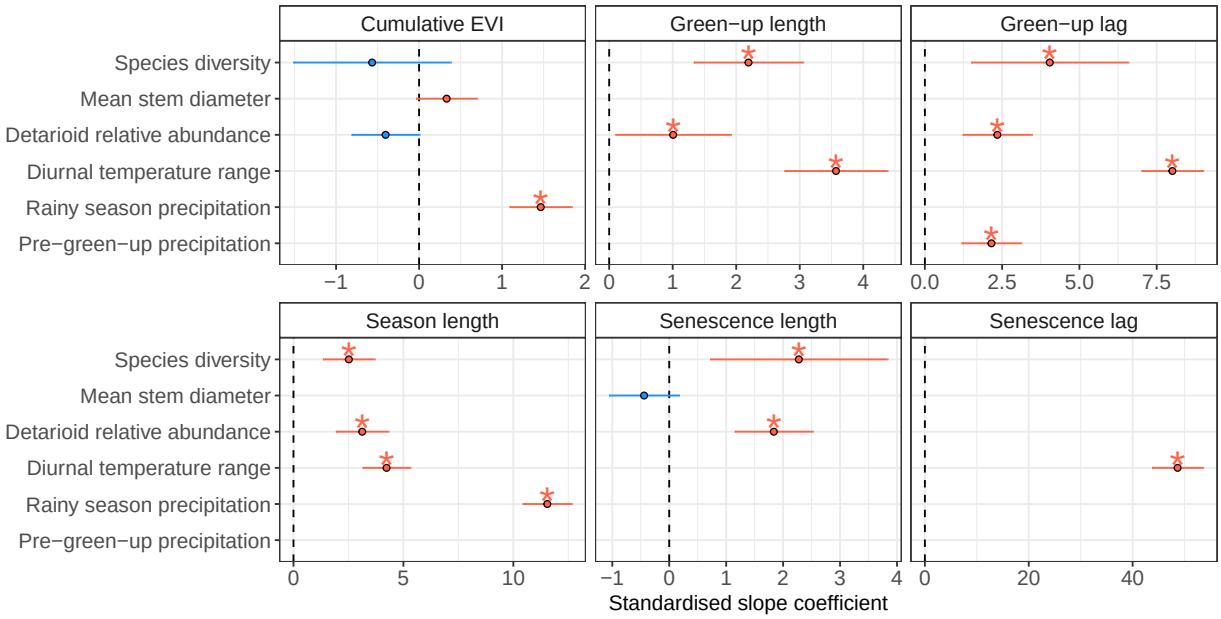

Figure 4: Standardised slope coefficients for the best model of each phenological metric. Slope estimates are ±1 standard error. Slope estimates where the interval does not overlap zero are considered to be significant effects and are marked by asterisks. Note that standardised slope coefficients should not be compared among models shown in the different panels.

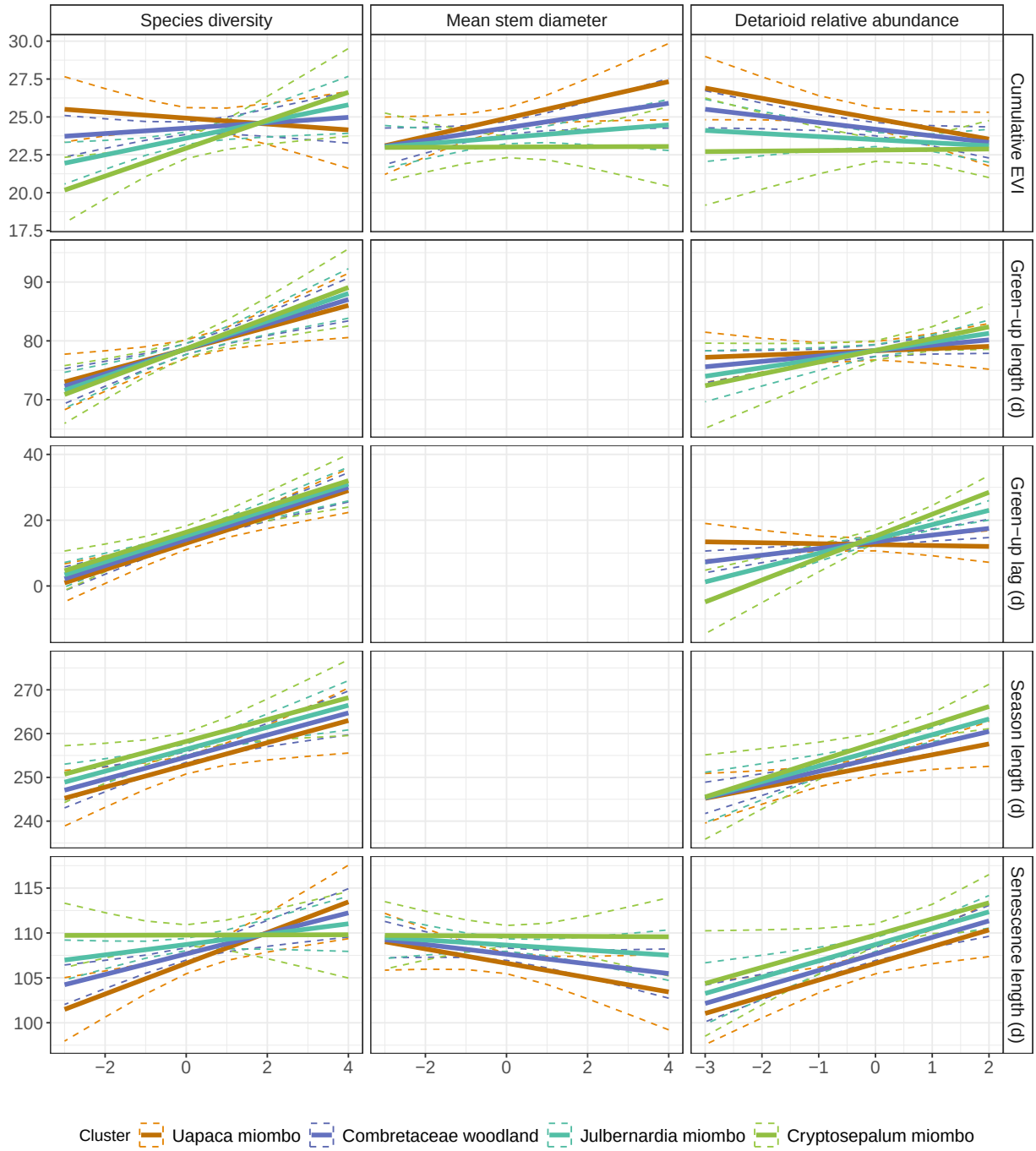

Figure 5: Standardised marginal effects of tree species diversity on each of the phenological metrics, using the maximal mixed effects model, for each vegetation cluster. Dotted lines represent 95% confidence intervals. Units of 'd' are number of days.

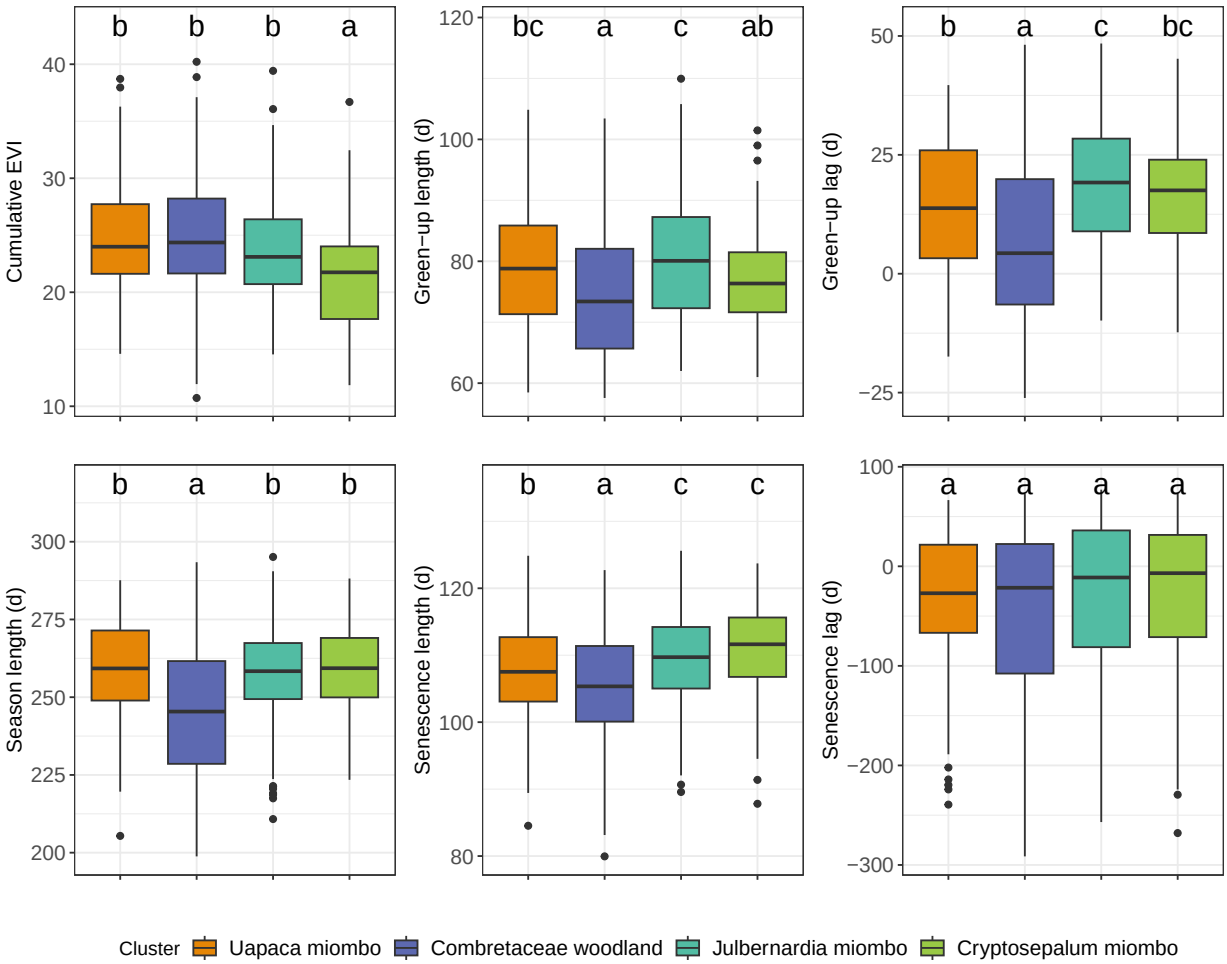

Figure 6: Boxplots of the six phenological metrics used in the study, grouped by vegetation type. Letters not shared among vegetation types denote that these vegetations types were identified as significantly different by post-hoc Tukey's HSD tests derived from the MANOVA of phenological metrics by cluster. Units of 'd' are number of days.

4 Discussion

In this study we have demonstrated clear and measurable effects of tree species diversity, composition and structure on various metrics of land surface phenology in deciduous woodlands across Zambia. We showed that tree species diversity led to an increase in growing season length across wooodland compositional types. Additionally, species diversity caused the onset of greening to occur earlier with respect to the start of the rainy season. Our study lends support for a general positive effect of tree species diversity on primary productivity in southern African deciduous woodlands, with species rich woodlands exhibiting a longer growing season and an extended period of maximum foliage cover.

Our finding that species diversity caused earlier pre-rain green-up suggests that diverse woodlands are more resilient to temporal variations in the onset of seasonal rainfall. This provides early forage

for herbivores (Morellato et al., 2016), and provides facilitative effects such as cover and hydraulic lift which benefit understorey plants (Domec et al., 2010; Yu & D'Odorico, 2015). Our results highlight the role of tree species diversity as a driver of key ecosystem processes, which affect ecosystem structure, the wildlife provisioning role, and gross primary productivity.

The basal area abundance of tree species from the Fabaceae family, subfamily Detarioideae, had a positive effect on season length and green-up lag. Previous studies have noted the importance of Detarioideae species in driving woody productivity in miombo woodlands (Ryan et al., 2017), where they dominate the woodland canopy (Godlee et al., 2021; Chidumayo, 2001). This study supports those previous observations. Given their tendency to create deep root networks (Zhou et al., 2020), and their conservative leaf economic spectrum traits (Wigley et al., 2016), we suggest that compared to other taxonomic groups, Detarioideae species are able to access deep groundwater reserves to green-up before seasonal rainfall begins.

The lag between the end of the growing season and the end of the rainy season was not strongly influenced tree species diversity. Cho et al. (2017) found that tree cover, measured by MODIS LAI data, had a significant negative effect on senescence rates in woodlands in South Africa, which have similar climatic conditions to the sites in our study. In most woodlands, including sparse savannas, while the onset of the growing season is often driven by tree photosynthetic activity, which may precede the onset of precipitation, the end of the growing season is conversely driven by the understorey grass layer (Cho et al., 2017; Guan et al., 2014). Grass activity is more reactive to short-term changes in soil moisture than tree activity, and may oscillate within the senescence period (Archibald & Scholes, 2007). This may explain the lack of a strong precipitation signal for senescence lag and senescence length in our models. i

Other studies both globally and within southern African woodlands have largely ignored patterns of senescence, instead focussing patterns of green-up (Gallinat et al., 2015). Most commonly, these studies simply correlate the decline of rainfall with senescence (Stevens et al., 2016; Guan et al., 2014), but our best model suggests that diurnal temperature range is a stronger determinant of the end of the growing season than precipitation. Diurnal temperature range effectively measures mean daily temperature variability. We suggest that diurnal temperature fluctuations, particularly minimum night time temperatures, may provide cues for senescence toward the end of the rainy season. In temperate ecosystems which experience autumn senescence, lower night time temperatures have been shown to increase the rate of senescence and thus decrease senescence period length (Michelson et al., 2017; Gárate-Escamilla et al., 2020), thus leaves remain green for longer when the diurnal temperature range is smaller. Similarly, our models showed that larger diurnal temperature range caused earlier pre-rain green-up, and possibly acts as a cue to initiate the growing season as well.

Alternatively, Zani et al. (2020) suggests that in resource limited environments, senescence times may largely be set by the preceding photosynthetic activity and sink-limitations on growth. For example, limited nutrient supply may prohibit photosynthesis late in the season if the preceding photosynthetic activity has depleted that supply. Reich et al. (1992) suggested that there are many direct constraints on leaf life-span such as drought and herbivory, especially in the seasonally dry tropics, which would lead to timing of senescence being set largely by the time of bud-burst. Our study corroborates this theory, showing that precipitation across the entire rainy season was a better predictor of senescence lag than pre-senescence precipitation. We also found a moderate positive correlation between green-up lag and senescence lag across all vegetation types, indicating that later green-up allows later senescence (Figure S1).

Our results that species diversity strongly affects patterns of land surface phenology in seasonally dry tropical woodlands provides earth surface system modellers with a means to better understand how future changes in species diversity and composition will affect land surface phenology. Incorporating predictions of biotic change into earth system models has been limited (Ahlstrom et al., 2015; Bodegom et al., 2011) until now for two main reasons. Firstly, there are large uncertainties in the effects of diversity on ecosystem function, e.g. gross primary productivity (GPP). Secondly, until recently there has been a major paucity of ground data on community composition (). Our study comes at a pertinent time when plot-based vegetation monitoring networks have become sufficiently widespread (), and remotely sensed proxies of tree species diversity are becoming sophisticated enough () to be of real use to earth system modellers. Our study provides a link by demonstrating a strong positive relationship between species diversity and growing season length, which is itself closely correlated with GPP (Sjöström et al., 2011).

5 Conclusion

We explored how tree species diversity, composition and structure of deciduous woodlands influence land surface phenology across Zambia. We showed that species diversity clearly drives longer growing seasons and promotes earlier pre-rain green-up, across all woodland compositional types studied here. The abundance of species from the Fabaceae family, subfamily Detarioideae had a consistent positive effect on season length and caused earlier pre-rain green-up, supporting suggestions of their role in driving pre-rain green-up in southern African miombo woodlands. Contrary to our expectations, we did not find evidence for an effect of mean tree size on land surface phenology, indicating that phenological adaptation of species is not merely correlated with maximum tree size. Finally, we have demonstrated variation in phenological patterns among woodland compositional types within Zambia that are commonly not distinguished in earth system models.

Our results lend further support to an already well established corpus of study on the positive effect of species diversity on ecosystem function. Additionally, our results provide evidence for earth-system modellers, demonstrating the importance of community composition and diversity in determining patterns of land surface phenology. As reliable data on plant community composition becomes available across larger spatial scales and at higher spatial resolution, we hope that these data can be included in models of land-atmosphere mass and energy exchange to improve their predictive power.

References

Adole, T., J. Dash & P. M. Atkinson (2018a). "Characterising the land surface phenology of Africa using 500 m MODIS EVI". In: *Applied Geography* 90, pp. 187–199. DOI: 10.1016/j.apgeog.2017.12.006.

Adole, T., J. Dash & P. M. Atkinson (2018b). "Large-scale prerain vegetation green-up across Africa". In: *Global Change Biology* 24.9, pp. 4054–4068. DOI: 10.1111/gcb.14310.

Adole, T., J. Dash, V. Rodriguez-Galiano & P. M. Atkinson (2019). "Photoperiod controls vegetation phenology across Africa". In: *Communications Biology* 2.1. DOI: 10.1038/s42003-019-0636-7.

Ahlstrom, A., M. R. Raupach, G. Schurgers, B. Smith, A. Arneth, M. Jung, M. Reichstein, J. G. Canadell, P. Friedlingstein, A. K. Jain, et al. (2015). "The dominant role of semi-arid ecosystems in the trend and variability of the land CO2 sink". In: *Science* 348.6237, pp. 895–899. DOI: 10.1126/science.aaa1668.

Araujo, H. F. P. de, A. H. Vieira-Filho, M. R. V. Barbosa, J. A. F. Diniz-Filho & J. M. C. da Silva (2017). "Passerine phenology in the largest tropical dry forest of South America: Effects of climate and resource availability". In: *Emu - Austral Ornithology* 117.1, pp. 78–91. DOI: 10.1080/01584197.2016.1265430.

Archibald, S. & R. J. Scholes (2007). "Leaf green-up in a semi-arid African savanna -separating tree and grass responses to environmental cues". In: *Journal of Vegetation Science* 18.4, pp. 583–594. DOI: 10.1111/j.1654-1103.2007.tb02572.x.

Bale, J. S., G. J. Masters, I. D. Hodkinson, C. Awmack, T. M. Bezemer, V. K. Brown, J. Butterfield, A. Buse, J. C. Coulson, J. Farrar, et al. (2002). "Herbivory in global climate change research: direct effects of rising temperature on insect herbivores". In: *Global Change Biology* 8.1, pp. 1–16. DOI: 10.1046/j.1365-2486.2002.00451.x.

Bloom, A. A., J. Exbrayat, I. R. van der Velde, L. Feng & M. Williams (2016). "The decadal state of the terrestrial carbon cycle: Global retrievals of terrestrial carbon allocation, pools, and residence times". In: *Proceedings of the National Academy of Sciences* 113.5, pp. 1285–1290. DOI: 10.1073/pnas.1515160113.

Bodegom, P. M. V., J. C. Douma, J. P. M. Witte, J. C. Ordoñez, R. P. Bartholomeus & R. Aerts (2011). "Going beyond limitations of plant functional types when predicting global ecosystem-atmosphere fluxes: exploring the merits of traits-based approaches". In: 21.6, pp. 625–636. DOI: 10.1111/j.1466-8238.2011.00717.x.

Broadhead, J. S., C. K. Ong & C. R. Black (2003). "Tree phenology and water availability in semi-arid agroforestry systems". In: *Forest Ecology and Management* 180.1-3, pp. 61–73. DOI: 10.1016/s0378-1127(02)00602-3.

Chidumayo, E. N. (2001). "Climate and phenology of savanna vegetation in southern Africa". In: *Journal of Vegetation Science* 12.3, p. 347. DOI: 10.2307/3236848.

Cho, M. A., A. Ramoelo & L. Dziba (2017). "Response of land surface phenology to variation in tree cover during green-up and senescence periods in the semi-arid savanna of southern Africa". In: *Remote Sensing* 9.7, p. 689. DOI: 10.3390/rs9070689.

Cole, E. F., P. R. Long, P. Zelazowski, M. Szulkin & B. C. Sheldon (2015). "Predicting bird phenology from space: Satellite-derived vegetation green-up signal uncovers spatial variation in phenological synchrony between birds and their environment". In: *Ecology and Evolution* 5.21, pp. 5057–5074. DOI: 10.1002/ece3.1745.

Curtis, R. O. & D. D. Marshall (2000). "Technical Note: Why Quadratic Mean Diameter?" In: 15.3, pp. 137–139. DOI: 10.1093/wjaf/15.3.137.

Dahlin, K. M., D. Del Ponte, E. Setlock & R. Nagelkirk (2016). "Global patterns of drought deciduous phenology in semi-arid and savanna-type ecosystems". In: *Ecography* 40.2, pp. 314–323. DOI: 10.1111/ecog.02443.

Didan, L. (2015). *MOD13Q1 MODIS/Terra Vegetation Indices 16-Day L3 Global 250m SIN Grid V006 [Data set]*. NASA EOSDIS Land Processes DAAC. DOI: 10.5067/MODIS/MOD13Q1.006. (Visited on 08/05/2020).

Dinerstein, E., D. Olson, A. Joshi, C. Vynne, N. D. Burgess, E. Wikramanayake, N. Hahn, S. Palminteri, P. Hedao, R. Noss, et al. (2017). "An ecoregion-based approach to protecting half the terrestrial realm". In: *BioScience* 67.6, pp. 534–545. DOI: 10.1093/biosci/bix014.

Domec, J.-C., J. S. King, A. Noormets, E. Treasure, M. J. Gavazzi, G. Sun & S. G. McNulty (2010). "Hydraulic redistribution of soil water by roots affects whole-stand evapotranspiration and net ecosystem carbon exchange". In: 187.1, pp. 171–183. DOI: 10.1111/j.1469-8137.2010.03245.x.

Dufrêne, M. & P. Legendre (1997). "Species assemblage and indicator species: The need for a flexible asymmetrical approach". In: *Ecological Monographs* 67, pp. 345–366. DOI: 10.1890/0012-9615(1997)067[0345:SAAIST]2.0.CO;2.

Faith, D. P., P. R. Minchin & L. Belbin (1987). "Compositional dissimilarity as a robust measure of ecological distance". In: *Vegetatio* 69.1-3, pp. 57–68. DOI: 10.1007/bf00038687.

Fayolle, A., M. D. Swaine, J. Bastin, N. Bourland, J. A. Comiskey, G. Dauby, J. Doucet, J. Gillet, S. Gourlet-Fleury, O. J. Hardy, et al. (2014). "Patterns of tree species composition across tropical African forests". In: *Journal of Biogeography* 41.12, pp. 2320–2331. DOI: 10.1111/jbi.12382.

Ferijal, T., O. Batelaan, M. Shanafield & F. Alfahmi (2022). "Determination of rainy season onset and cessation based on a flexible driest period". In: *Theoretical and Applied Climatology* 148.1-2, pp. 91–104. DOI: 10.1007/s00704-021-03917-1.

Fick, S. E. & R. J. Hijmans (2017). "WorldClim 2: New 1-km spatial resolution climate surfaces for global land areas". In: *International Journal of Climatology* 37.12, pp. 4302–4315. DOI: 10.1002/joc.5086.

Friedl, M. & D. Sulla-Menashe (2019). *MCD12Q1 MODIS/Terra+Aqua Land Cover Type Yearly L3 Global 500m SIN Grid V006 [Data set]*. NASA EOSDIS Land Processes DAAC. DOI: 10.5067/MODIS/MCD12Q1.006. (Visited on 07/23/2021).

Friedl, M., J. Gray & D. Sulla-Menashe (2022). *MODIS/Terra+Aqua Land Cover Dynamics Yearly L3 Global 500m SIN Grid V061*. DOI: 10.5067/MODIS/MCD12Q2.061. (Visited on 03/01/2023).

Fuller, D. O. (1999). "Canopy phenology of some mopane and miombo woodlands in eastern Zambia". In: *Global Ecology and Biogeography* 8.3-4, pp. 199–209. DOI: 10.1046/j.1365-2699.1999.00130.x.

Gallinat, A. S., R. B. Primack & D. L. Wagner (2015). "Autumn, the neglected season in climate change research". In: 30.3, pp. 169–176. DOI: 10.1016/j.tree.2015.01.004.

Gárate-Escamilla, H., C. C. Brelsford, A. Hampe, T. M. Robson & M. B. Garzón (2020). "Greater capacity to exploit warming temperatures in northern populations of European beech is partly driven by delayed leaf senescence". In: 284, p. 107908. DOI: 10.1016/j.agrformet.2020.107908.

Godlee, J. L., C. M. Ryan, D. Bauman, S. J. Bowers, J. M. B. Carreiras, A. V. Chisingui, J. P. G. M. Cromsigt, D. J. Druce, M. Finckh, F. M. Gonçalves, et al. (2021). "Structural diversity and tree density drives variation in the biodiversity-ecosystem function relationship of woodlands and savannas". In: *New Phytologist* 232.2, pp. 579–594. DOI: 10.1111/nph.17639.

Gray, J., D. Sulla-Menashe & M. A. Friedl (2022). *User Guide to Collection 6.1 MODIS Land Cover Dynamics (MCD12Q2) Product*. Accessed: 2023-03-01. URL: https://lpdaac.usgs.gov/documents/1417/MCD12Q2_User_Guide_V61.pdf.

Gu, L., W. M. Post, D. Baldocchi, T. A. Black, S. B. Verma, T. Vesala & S. C. Wofsy (2003). "Phenology of vegetation photosynthesis". In: *Phenology: An Integrative Environmental Science*, pp. 467–485. DOI: 10.1007/978-94-007-0632-3_29.

Guan, K., E. F. Wood, D. Medvigy, J. Kimball, M. Pan, K. K. Caylor, J. Sheffield, C. Xu & M. O. Jones (2014). "Terrestrial hydrological controls on land surface phenology of African savannas and woodlands". In: *Journal of Geophysical Research: Biogeosciences* 119.8, pp. 1652–1669. DOI: 10.1002/2013jg002572.

Helman, D. (2018). "Land surface phenology: What do we really 'see' from space?" In: *Science of The Total Environment* 618, pp. 665–673. DOI: 10.1016/j.scitotenv.2017.07.237.

Huffman, G. J., E. F. Stocker, D. Bolvin, E. J. Nelkin & J. Tan (2015). *GPM IMERG Final Precipitation L3 1 day 0.1 degree x 0.1 degree V06 [Data set]*. Goddard Earth Sciences Data and Information Services Center (GES DISC). DOI: 10.5067/MODIS/MOD13Q1.006. (Visited on 10/30/2020).

Jeganathan, C., J. Dash & P. M. Atkinson (2014). "Remotely sensed trends in the phenology of northern high latitude terrestrial vegetation, controlling for land cover change and vegetation type". In: *Remote Sensing of Environment* 143, pp. 154–170. DOI: 10.1016/j.rse.2013.11.020.

Jost, L. (2007). "Partitioning diversity into independent alpha and beta components". In: *Ecology* 88.10, pp. 2427–2439. DOI: 10.1890/06-1736.1.

Kreft, H. & W. Jetz (2010). "A framework for delineating biogeographical regions based on species distributions". In: *Journal of Biogeography* 37.11, pp. 2029–2053. DOI: 10.1111/j.1365-2699.2010.02375.x.

Lasky, J. R., M. Uriarte & R. Muscarella (2016). "Synchrony, compensatory dynamics, and the functional trait basis of phenological diversity in a tropical dry forest tree community: effects of rainfall seasonality". In: 11.11, p. 115003. DOI: 10.1088/1748-9326/11/11/115003.

Michelson, I. H., P. K. Ingvarsson, K. M. Robinson, E. Edlund, M. E. Eriksson, O. Nilsson & S. Jansson (2017). "Autumn senescence in aspen is not triggered by day length". In: 162.1, pp. 123–134. DOI: 10.1111/ppl.12593.

Morellato, L. P. C., B. Alberton, S. T. Alvarado, B. Borges, E. Buisson, M. G. G. Camargo, L. F. Cancian, D. W. Carstensen, D. F. E. Escobar, P. T. P. Leite, et al. (2016). "Linking plant phenology to conservation biology". In: *Biological Conservation* 195, pp. 60–72. DOI: 10.1016/j.biocon.2015.12.033.

Mukosha, J. & A. Siampale (2009). *Integrated land use assessment Zambia 2005–2008*. Lusaka, Zambia: Ministry of Tourism, Environment et al.

Mupangwa, W., S. Walker & S. Twomlow (2011). "Start, end and dry spells of the growing season in semi-arid southern Zimbabwe". In: *Journal of Arid Environments* 75.11, pp. 1097–1104. DOI: 10.1016/j.jaridenv.2011.05.011.

Murtagh, F. & P. Legendre (2014). "Ward's hierarchical agglomerative clustering nethod: Which algorithms implement Ward's criterion?" In: *Journal of Classification* 31.3, pp. 274–295. DOI: 10.1007/s00357-014-9161-z.

Ogutu, J. O., H. Piepho & H. T. Dublin (2013). "Responses of phenology, synchrony and fecundity of breeding by African ungulates to interannual variation in rainfall". In: *Wildlife Research* 40.8, p. 698. DOI: 10.1071/wr13117.

Parr, C. L., C. E. R. Lehmann, W. J. Bond, W. A. Hoffmann & A. N. Andersen (2014). "Tropical grassy biomes: Misunderstood, neglected, and under threat". In: *Trends in Ecology and Evolution* 29, pp. 205–213. DOI: 10.1016/j.tree.2014.02.004.

Pavlick, R., D. T. Drewry, K. Bohn, B. Reu & A. Kleidon (2013). "The Jena Diversity-Dynamic Global Vegetation Model (JeDi-DGVM): A diverse approach to representing terrestrial biogeography and biogeochemistry based on plant functional trade-offs". In: *Biogeosciences* 10.6, pp. 4137–4177. DOI: 10.5194/bg-10-4137-2013.

Pelletier, J., A. Paquette, K. Mbindo, N. Zimba, A. Siampale, B. Chendauka, F. Siangulube & J. W. Roberts (2018). "Carbon sink despite large deforestation in African tropical dry forests (miombo woodlands)". In: *Environmental Research Letters* 13, p. 094017. DOI: 10.1088/1748-9326/aadc9a.

Peng, D., X. Zhang, C. Wu, W. Huang, A. Gonsamo, A. R. Huete, K. Didan, B. Tan, X. Liu & B. Zhang (2017). "Intercomparison and evaluation of spring phenology products using National Phenology Network and AmeriFlux observations in the contiguous United States". In: *Agricultural and Forest Meteorology* 242, pp. 33–46. DOI: 10.1016/j.agrformet.2017.04.009.

Penuelas, J., T. Rutishauser & I. Filella (2009). "Phenology feedbacks on climate change". In: *Science* 324.5929, pp. 887–888. DOI: 10.1126/science.1173004.

Prather, C. M., S. L. Pelini, A. Laws, E. Rivest, M. Woltz, C. P. Bloch, I. Del Toro, C. Ho, J. Kominoski, T. A. S. Newbold, et al. (2012). "Invertebrates, ecosystem services and climate change". In: *Biological Reviews* 88.2, pp. 327–348. DOI: 10.1111/brv.12002.

R Core Team (2020). *R: A Language and Environment for Statistical Computing*. R Foundation for Statistical Computing. Vienna, Austria. URL: https://www.R-project.org/.

Reich, P. B., M. B. Walters & D. S. Ellsworth (1992). "Leaf life-span in relation to leaf, plant, and stand characteristics among diverse ecosystems". In: 62.3, pp. 365–392. DOI: 10.2307/2937116.

Richardson, A. D., T. F. Keenan, M. Migliavacca, Y. Ryu, O. Sonnentag & M. Toomey (2013). "Climate change, phenology, and phenological control of vegetation feedbacks to the climate system". In: *Agricultural and Forest Meteorology* 169, pp. 156–173. DOI: 10.1016/j.agrformet.2012.09.012.

Rousseeuw, P. J. (1987). "Silhouettes: A graphical aid to the interpretation and validation of cluster analysis". In: *Journal of Computational and Applied Mathematics* 20, pp. 53–65. DOI: 10.1016/0377-0427(87)90125-7.

Ryan, C. M., M. Williams, J. Grace, E. Woollen & C. E. R. Lehmann (2017). "Pre-rain green-up is ubiquitous across southern tropical Africa: implications for temporal niche separation and model representation". In: *New Phytologist* 213.2, pp. 625–633. DOI: 10.1111/nph.14262.

Scheiter, S., L. Langan & S. I. Higgins (2013). "Next-generation dynamic global vegetation models: Learning from community ecology". In: *New Phytologist* 198.3, pp. 957–969. DOI: 10.1111/nph.12210.

Segele, Z. T. & P. J. Lamb (2005). "Characterization and variability of Kiremt rainy season over Ethiopia". In: *Meteorology and Atmospheric Physics* 89.1-4, pp. 153–180. DOI: 10.1007/s00703-005-0127-x.

Sjöström, M., J. Ardö, A. Arneth, N. Boulain, B. Cappelaere, L. Eklundh, A. de Grandcourt, W. L. Kutsch, L. Merbold & Y. Nouvellon (2011). "Exploring the potential of MODIS EVI for modeling gross primary production across African ecosystems". In: *Remote Sensing of Environment* 115.4, pp. 1081–1089. DOI: 10.1016/j.rse.2010.12.013.

Stan, K. & A. Sanchez-Azofeifa (2019). "Tropical dry forest diversity, climatic response, and resilience in a changing climate". In: *Forests* 10.5, p. 443. DOI: 10.3390/f10050443.

Stern, R. D., M. D. Dennett & D. J. Garbutt (1981). "The start of the rains in West Africa". In: *Journal of Climatology* 1.1, pp. 59–68. DOI: 10.1002/joc.3370010107.

Stevens, N., C. E. R. Lehmann, B. P. Murphy & G. Durigan (2016). "Savanna woody encroachment is widespread across three continents". In: *Global Change Biology* 23.1, pp. 235–244. DOI: 10.1111/gcb.13409.

Stöckli, R., T. Rutishauser, I. Baker, M. A. Liniger & A. S. Denning (2011). "A global reanalysis of vegetation phenology". In: *Journal of Geophysical Research* 116.G3. DOI: 10.1029/2010jg001545.

Tadross, M. A., B. C. Hewitson & M. T. Usman (2005). "The Interannual Variability of the Onset of the Maize Growing Season over South Africa and Zimbabwe". In: *Journal of Climate* 18.16, pp. 3356–3372. DOI: 10.1175/jcli3423.1.

Velasque, M. & K. Del-Claro (2016). "Host plant phenology may determine the abundance of an ecosystem engineering herbivore in a tropical savanna". In: *Ecological Entomology* 41.4, pp. 421–430. DOI: 10.1111/een.12317.

White, F. (1983). *The Vegetation of Africa: A descriptive memoir to accompany the UNESCO / AETFAT / UNSO vegetation map of Africa*. Paris, France: UNESCO. DOI: http://dx.doi.org/10.2307/2260340.

Whitley, R., J. Beringer, L. B. Hutley, G. Abramowitz, M. G. De Kauwe, B. Evans, V. Haverd, L. Li, C. Moore, Y. Ryu, et al. (2017). "Challenges and opportunities in land surface modelling of savanna ecosystems". In: *Biogeosciences* 14.20, pp. 4711–4732. DOI: 10.5194/bg-14-4711-2017.

Wigley, B. J., J. A. Slingsby, S. Díaz, W. J. Bond, H. Fritz & C. Coetsee (2016). "Leaf traits of African woody savanna species across climate and soil fertility gradients: evidence for conservative versus acquisitive resource-use strategies". In: *Journal of Ecology* 104.5. Ed. by W. Cornwell, pp. 1357–1369. DOI: 10.1111/1365-2745.12598.

Yu, K. & P. D'Odorico (2015). "Hydraulic lift as a determinant of tree–grass coexistence on savannas". In: 207.4, pp. 1038–1051. DOI: 10.1111/nph.13431.

Zani, D., T. W. Crowther, L. Mo, S. S. Renner & C. M. Zohner (2020). "Increased growing-season productivity drives earlier autumn leaf senescence in temperate trees". In: 370.6520, pp. 1066–1071. DOI: 10.1126/science.abd8911.

Zhou, Y., B. J. Wigley, M. F. Case, C. Coetsee & A. C. Staver (2020). "Rooting depth as a key woody functional trait in savannas". In: 227.5, pp. 1350–1361. DOI: 10.1111/nph.16613.

6 Supplementary Material

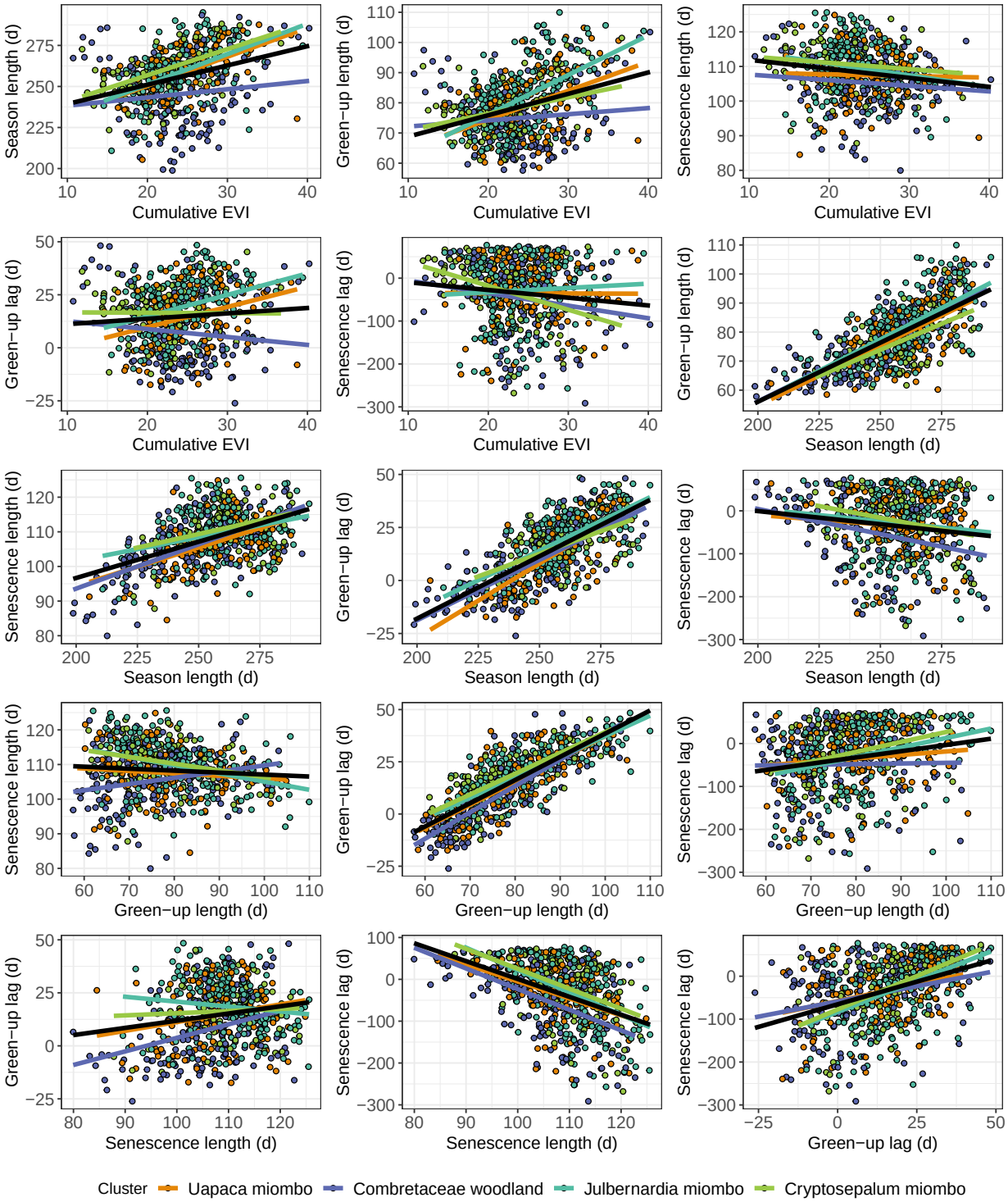

Figure S1: Scatter plots showing pairwise comparisons of the six phenological metrics used in this study, extracted from the MODIS MOD13Q1 product (Didan, 2015). Points represent study sites and are coloured by vegetation cluster. Linear regression line of best fit for all sites is shown as a black line, while linear regressions are shown for each vegetation cluster as coloured lines. The units of 'd' are the number of days.